COMPANY PROFILE

NR Intellectual Solution

Consulting Engineers, Planning & Project Management

Background of The Firm

NR Intellectual Solution is an autonomous, multi-disciplinary consulting firm. It has been inaugurated by a group of highly qualified and dedicated experts of development interventions. It started it journey in the year 2022. NRIS is proud to be an evolvement, partner providing appropriate, adequate and sustainable solutions and resolution for infrastructure development through innovative, originative ideas, capacity building, and training. NR Intellectual Solution. provides services from the stage of inception to the completion of projects. Focusing on the need of clients and society, NR Intellectual Solution has expanded its activities in diversified fields to develop areas of expertise and strengthen its capabilities.

NR Intellectual Solution. has earned a reputation for engineering excellence. NR Intellectual Solution is capable to provide the related, complete service portfolio ranging from Environmental monitoring and Evaluation, Baseline Survey, Initial Environmental Examination (IEE), Environmental Impact Assessment (EIA), Resettlement Action Plan (RAP) Study, Environmental Social Impact Assessment (ESIA), Socio Economic Feasibility Study, Strategic Environmental Assessment (SEA), Topographical Survey, Feasibility studies, Baseline Survey, Waste Management, Natural Resource Management and Agricultural Solution for various sectors such as Transportation, Power & Energy, Oil and Mining, Port & Estuary & Inland Navigation and so many various Sector.

Corporate Information

SL	Description / Items		Remarks
1.	**Name of the Firm**	:	NR Intellectual Solution
2.	**Acronym**	:	NRIS
3.	**Year of Establishment**	:	2018
4.	**Type of Organization**	:	Proprietorship
5.	**Trade License Number**	:	TRAD/DNCC/049349/2022
6.	**Tax Identification Number**	:	155244728947
7.	**BIN Number**	:	006231924-0402
8.	**Corporate Address**	:	31/1, 1st Floor, East Rajabazar, Amtala, Farmgate, Dhaka-1215, Bangladesh
9.	**Contact Information**	:	+8801913965059, +8801625333883 Email: nris.bd71@gmail.com
10.	**Name of Bankers**	:	NRBC Bank

Our Mission & Vision

Our Mission is to achieve sustainable development of Bangladesh in every sector with our consulting services which is governed with our very specific vision governed with our core values.

Our Vision is to achieve 100% client satisfaction by delivering quality products and services at an affordable cost. Our forward vision is to strive to become an entity in technology based Environmental solutions, capable of demanding unconditional response from the targeted niche. We also believe that for our scope of improvisation – sky is the limit and we are always ready to take our achievements to the next level. We are growing and would always like to remain on the growing streak.

Our Relationship with our clients is what that matters the most. We succeed when our clients succeed. And thus, our values stand for:

- Integrity and Diversity
- Quality and Commitment
- Sustainability and Safety

Principles & Strategies

NR Intellectual Solution. thrives for sustainable integrated development by participating in planning and implementation of development interventions through consulting services in training, research and project related activities. NR Intellectual Solution. believes that in development efforts, participatory approach is very effective and sustainable; and experts give due considerations to local wisdom in all stages of project cycle. In its actions the firm adheres to the following principles:

- Bear in mind the social and economic interests of the women and deprived section of the population
- Be concerned with the effects of development work on people and environment and
- Join hands with experts from different fields in a coordinated manner for sustenance.

NR Intellectual Solution. is capable of making positive contributions in technological, social, economic, agronomic and environmental fields. The experts and professionals associated with it have remarkable records of quality services in these fields. It must be noted that while they have valuable experience of working in multi-disciplinary team of experts, they give due and added importance to people's participation in different stages of project development and execution.

A fully developed Management Information System (MIS) is functional to generate and provide required management information like status of ongoing projects, developing projects, staff resources, inventories of documents, CVs, etc. The MIS is continuously updated to meet the management requirement and to facilitate decision-making.

Expertise Area of NRIS

Services	Fields
1) Baseline Surveys	➢ Project Concept and Planning
2) Engineering Surveys	➢ Transportation
3) Field Investigation and Testing	➢ Environmental Studies
4) Pre-Feasibility Studies	➢ Water Resources
5) Technical and Economic Feasibility Studies	➢ Water Supply
6) Detailed Design, Specification & BOQ	➢ Hydrology and Hydraulics
7) Cost Estimation, Tender Preparation and Documentation	➢ Coastal
8) Tender Appraisal	➢ Geotechnical
9) Contract Preparation and Administration	➢ Mechanical and Electrical
10) Value Engineering	➢ Bridges
11) Design and Safety Audit	➢ Constriction Supervision and Monitoring
12) Dams	➢ Structural
13) Constriction Management and Value Management	➢ Public Health
14) Rehabilitation Studies	➢ Land Development
15) Asset Management Studies	➢ Power and Control
	➢ Construction Supervision

SECTORS	SUB-SECTORS	SERVICES
Power & Energy	► Power Generation ► Power Distribution ► Power Transmission	► Environmental Assessment including REA, IEE, EIA & ESIA ► Environmental Management and Monitoring Plan ► Environmental Monitoring Services (EMS) ► Biodiversity Conservation and Management ► Resettlement Action Plan (RAP) ► Socioeconomic Survey and Studies ► Topographic Survey ► Master plan, Design and Drawing ► Physical Features Survey ► GIS Mapping and Digitization ► Route Survey ► Bathymetry and Hydrological Assessment ► Air and Noise Modelling ► Land Acquisition Plan (LAP) / Market Price Survey ► Waste Management Plan

Gas & Mineral	► Natural Gas ► Gas Pipeline ► 3D, 2D Seismic Survey ► Drilling	► Environmental Assessment including REA, IEE, EIA & ESIA ► Environmental Management and Monitoring Plan ► Biodiversity Conservation and Management ► Environmental Monitoring Services (EMS) – Compliance and OHS ► Resettlement Action Plan (RAP) ► Topographic Survey ► GIS Mapping and Digitization ► Bathymetry and Hydrological Assessment ► Socioeconomic Survey and Studies
	► Mining & Petroleum	► Environmental Assessment including REA, IEE, EIA & ESIA ► Environmental Management and Monitoring Plan ► Environmental Monitoring Services (EMS) – Compliance and OHS ► Master plan, Design and Drawing ► Resettlement Action Plan (RAP) ► Topographic Survey ► GIS Mapping and Digitization ► Bathymetry and Hydrological Assessment ► Socioeconomic Survey and Studies

SECTORS	SUB-SECTORS	SERVICES
Natural Resource Management & Agriculture	► Forestry ► Ecology ► Biodiversity ► Fisheries ► Water Resource ► Agriculture ► Waste Management	► Environmental Assessment including REA, IEE, EIA & ESIA ► Environmental Management and Monitoring Plan ► Resettlement Action Plan (RAP) ► Socioeconomic Survey and Studies ► Various Types of Waste Collection and Test ► Reuse, Recycle Planning ► Master plan, Design and Drawing ► Topographic Survey ► Land Acquisition Plan (LAP) / Market Price Survey ► Contaminated Site Assessment and Remediation
Port, Estuary & Inland Navigation	► Ferry & Terminal ► Airport ► Inland Water	► Environmental Assessment including REA, IEE, EIA & ESIA ► Environmental Management and Monitoring Plan ► Biodiversity Conservation and Management ► Environmental Monitoring Services (EMS) – Compliance and OHS ► Resettlement Action Plan (RAP) ► Topographic Survey ► Master plan, Design and Drawing ► Bathymetry and Hydrological Assessment ► Socioeconomic Survey and Studies ► Waste Management Plan

Industrial Environment & Management Control	► Textile / Chemical Industry ► Garments & Factories ► Economic Zone	► Environmental Compliance and Management ► Environmental Assessment including REA, IEE, EIA & ESIA ► Biodiversity Conservation and Management ► Environmental Management and Monitoring Plan ► Green House Gas (GHG) ► Waste Management Plan ► Environmental Audit, Cleaner Production Assessment and Low Carbon development ► Environmental Clearances ► Effluent Treatment Plant Management Services (ETP/CETP) ► Laboratory Testing Facility

SECTORS	SUB-SECTORS	SERVICES
Water	► Water Supply ► Drainage & Sanitation ► Drainage Infrastructure ► Treatment	► Environmental Assessment including REA, IEE, EIA & ESIA ► Environmental Management and Monitoring Plan ► Biodiversity Conservation and Management ► Resettlement Action Plan (RAP) ► Socioeconomic Survey and Studies ► Bathymetry and Hydrological Assessment ► Topographic Survey ► Master plan, Design and Drawing ► Physical Features Survey ► GIS Mapping and Digitization ► Land Acquisition Plan (LAP) / Market Price Survey ► Waste Management Plan
Transportation	► MRT & Railways ► BRT, Roads & Highways ► Bridges & Tunnels ► Water Transport	► Environmental Assessment including REA, IEE, EIA & ESIA ► Environmental Management and Monitoring Plan ► Environmental Monitoring Services (EMS) ► Biodiversity Conservation and Management ► Resettlement Action Plan (RAP) ► Socioeconomic Survey and Studies ► Master plan, Design and Drawing ► Topographic Survey ► Route Survey ► GIS Mapping and Digitization ► Physical Features Survey ► Bathymetry and Hydrological Assessment ► Air and Noise Modelling ► Land Acquisition Plan (LAP) / Market Price Survey ► Waste Management Plan

Urban Infrastructure & Governance	► Urban Governance	► Environmental Assessment including REA, IEE, EIA & ESIA. ► Environmental Management and Monitoring Plan ► Resettlement Action Plan (RAP) ► Socioeconomic Survey and Studies ► Topographic Survey ► Master plan, Design and Drawing ► Physical Features Survey ► GIS Mapping and Digitization ► Land Acquisition Plan (LAP) / Market Price Survey ► Waste Management Plan

Organizational Setup

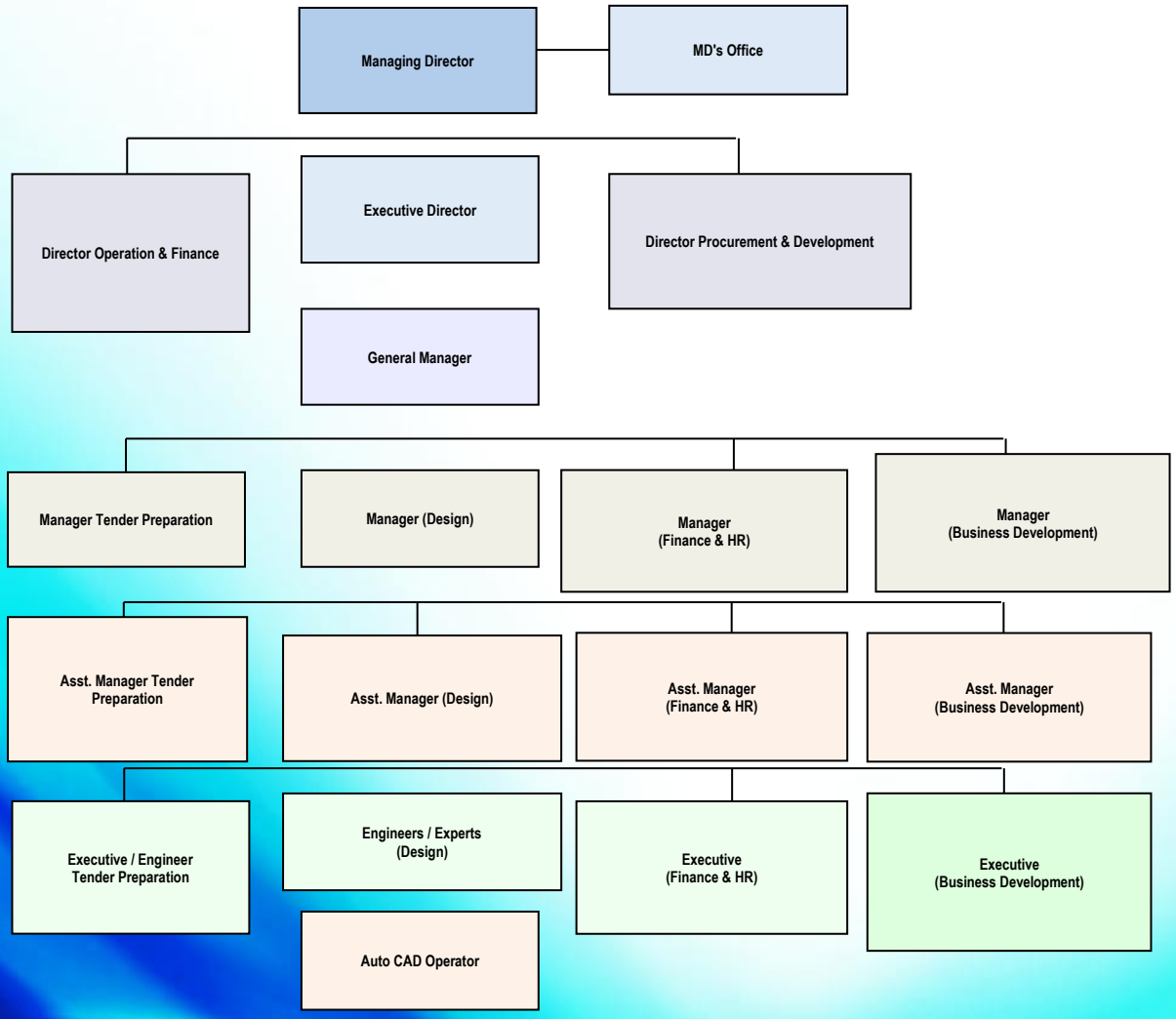

SPECIFIC PROFESSIONALS & TECHNICAL SUPPORTING STAFF FOR OUR SURVEY TEAM

Urban Planner
GIS and Remote Sensing Expert
Stereo Photogrammetry Specialist
Civil Engineer (B.Sc.)
Survey Expert
Drone Pilot
GIS and RS Analyst
Assistant Planner / GIS Associate
GNSS / RTK GPS Operator
Total Station Operator
Level Machine Operator
Survey Assistant
Data Entry Operator
AutoCAD Operator

EQUIPMENT

SURVEYING EQUIPMENT

GNSS Receiver (RTK GPS)

Topcon GR-5 GNSS Receiver (3 Units)
Satellites:
GPS, GLONASS, Galileo, BeiDou, SBAS, QZSS
Number of Channels:
226 Channel Vanguard Technology TM with Universal Tracking Channels
Accuracy:
H: 3.00 mm + 0.1 ppm; V" 3.5 mm + 0.4 ppm in static Mode
FC-500 Data Controller
Licensed Magnet Office Tools Software

UAV/Drone

Name of Drone with model: DJI Mavic 2 Pro
Specification of the sensor is as follows:

Sensor	Hasselblad 1" CMOS Effective Pixels: 20 million (20MP)
Lens	FOV: about 77° 35 mm Format Equivalemt: 28 mm Aperture: f/2.8 – f/11 Shooting Range: 1 m to ∞
ISO Range	Video: 100-6400

	Photo: 100-3200 (auto) 100-12800 (manual)
Shutter Speed	Electronic Shutter: 8-1/8000s
Still Image Size	5472 x 3648

Mavic 2 pro has capability of capturing 5k still images and a flight time of 31 minutes with a single battery.
Available quantity:

Description	Number
Drone	2
Controller	4
Battery	18

Total Stations

a. Topcon OS-101

- Accuracy (ISO 17123-3:2001):1" +- (2+ 2ppm x D)mm
- Measuring range (under average conditions)

Reflectorless: 0.3 to 500m
Mini Prism: 1.3 to 500 mm
One Prism: 1.3 to 4000 m

- Operating system: Microsoft Windows CE 6.0/ Magnet Field

b. Topcon OM101

- Accuracy (ISO 17123-3:2001):1" +- (2+ 2ppm x D)mm
- Measuring range (under average conditions)

Reflectorless: 0.3 to 500 m
Mini Prism: 1.3 to 500 mm
One Prism: 1.3 to 4000 m

c. Topcon GTS-225

- Accuracy (ISO 17123-3:2001):5" +- (2+ 2ppm x D)mm
- Measuring range (under average conditions)

Mini Prism: 900 mm
One Prism: 2000 m

d. Pentax R-425 VN

- Accuracy (ISO 17123-3):5" +- (2+ 2ppm x D)mm
- Measuring range (under average conditions)

Reflectorless: 1.5 to 400 m
Mini Prism: 1.3 to 1600 mm
One Prism: 1.5 to 5500 m

e. Gowin TKS-202

- Accuracy (ISO 17123-3:2001):2" +- (2+ 2ppm x D)mm

- Measuring range (under average conditions)
One Prism: 2000 m

Eco Sounder

Chart Plotter and Sonar: **Garmin GPS Map 55**

Digital Level: Leica Sprinter 50

Single staff reading: SD 0.6 mm (electronic) and 1.2 mm (optical) at 30 m
Distance accuracies: SD distance measurement 10 mm for D< 10 m or D = 10 m and (Distance in m x 0.001) for D> 10m
Range: 2 – 100 m (electronic)
Time for single measurement: <3 sec
Compensator: Magnet damped pendulum compensator (range +- 10 min)
Telescope: Magnification (optical) 24x

Digital Level: South DL-202

Height Accuracy: 1.5 mm
Distance Accuracy: D<10 m or D=10 m: 10 mm; D>10m: D*0.00
Distance Range: 2 – 100 m
Compensator: Magnetic – damped Range > 12 = 12, Accuracy: 0.5"/1
Telescope: Magnification 32x

GPS

Garmin etrex GPS 72H – 3nos
Garmin etrex 10 – 2 nos

Stereo Photogrammetric Facilities for Surveying Work

SL No.	Description	Quantity
1	Workstation: Intel Xeon E5-2620v3 CPU (2.40 GHz up to turbo 3.60 GHz, 6 cores, 12 threads); Intel C612 chipset; 32GB DDR3-2133 ECC RAM; 2TB 7200 rpm Serial ATA HDD; NVIDIA Quadro K2200 4GB 1st GFX Spl; Slim Super Multi DVDRW; Integrated Intel 1218LM PCIe GbE	3
2	Workstation: HP Z620 and HP Z420 2x Intel Xeon E5-2650v3 CPU (2.00 GHz up to turbo 3.00 GHz, 10 cores, 20 threads); Intel Xeon E5 1650 V5, 3.2 GHz p to turbo 4.0 GHz, 6 cores, 12 threads for HP Z420; Intel C226 chipset, 16 GB (2x8 GB) DDR3-1600 ECC RAM 1TB 7200 rpm Serial ATA HDD, NVIDIA Quadro K5000 4GB 1st GFZ Spl; Slim Super Multi DVDRW; Integrated Intel 1217LM PCIe GbE	2
3	3D monitor	5
4	3D Vision Kit (v2)	5
5	3D Mouse	1

Computers for Surveying Work

SL No.	Description	Quantity
1	Desktop PC (Core i7, 8GB RAM, 1TB HDD, 2GB DDR-5 Graphics)	2
2	Desktop PC (Core i5, 8GB RAM, 1TB HDD, 2GB DDR-5 Graphics)	4
3	Desktop PC (Core 2 Duo, 4GB RAM, 1TB HDD, 1GB DDR-3 Graphics)	3
4	Laptop	5

Printers and Scanner for Surveying Work

SL No.	Description	Quantity
1	HP Designjet T1708 (44") Printer (Planned)	1
2	Canon ix 6770/6700 A3 inkjet Printer	1
3	Epson L1300 A3 inkjet Printer	2
4	HP Laser Jet P1005	1
5	Plustek A320 A3 Scanner	1
6	Canon Lide 110 A4 Scanner	1

Pictures of Survey work at Different Sites:

Establishing the Datam and Benchmark for BIWTC Slipway Dockyard-01 & Dockyard – 02 project

BM Pillars at Dockyards

Equipment Setup

Topographic and Bathymetric Survey at BIWTC Slipway Dockyard -01 & 02

BM Pillars, RTK GPS at BFDC Harbour, Karnaphully, Chattogram, Chittagong

ADVISERS OF NR INTELLECTUAL SOLUTION

NRIS expansion of services and its development has been largely due to its dynamic management, the background and reputation of experts in diverse areas as well as its ease of access to a large pool of most talented professionals in the country. The overall management of NR Intellectual Solutions is vested upon advice from honorable Advisers who are concerned with the company's long-range objectives, policies and strategies. The day-to-day function of the group is carried under the guidance and supervision of the CEO.

Name	Education Qualification	Expertise
DR. AFZAL AHMED	Ph.D. in Civil Engineering, 2009 The University of Tokyo, Japan. M.Sc. Engineering (Civil and Environmental), 2001 The University of Tokyo, Japan. B.Sc. In Civil Engineering, 1998 Bangladesh University of Engineering and Technology (BUET)	Environmental Expert
Md. Jahangir ALAM	B.Sc. in Civil Engineering, Khulna University of Engineering and Technology (KUET), Bangladesh, 1997	Material Expert
Aminur Rahman	B.Sc Engineering, Electrical,1979,Rajshahi University	Solar Power Plant Expert
Sheikh Nazrul Islam	Master of Information Technology (MIT), Charles Sturt University, Australia, 2002 Postgraduate Diploma in Information Technology Program, London School of Commerce (An affiliate Institution of Charles University, Australia), London, UK, 2001 Bachelor of Electrical & Electronic Engineering, Bangladesh University of Engineering & Technology (BUET), Dhaka, Bangladesh, 1984	Procurement Expert
M. Osman Goni (Shawkat)	MS in Environmental Science and Management, North South University, 2017 MSS in Sociology, University of Dhaka, 1993 BS (Hons.) in Environmental Science and Management, University of Dhaka, 1992	ESIA Expert
Abu Hena Md. Mahbubur Rahman	B.sc Engg. (Civil) BUET in 1993	Structural Expert
Md. Azmal Hossain Quadery	BSc Engineering, Electrical & Electronic 1981 Rajshahi University	Substation Expert
Md. Rafiqul Islam	Bachelor of Science in Electrical Engineering from Khulna Engineering College, under University of Rajshahi, Bangladesh.Year- 1977	Distribution Line Expert
K. M. Khalequzzaman	Bachelor of Science in Civil Engineering (CE), Khulna University of Engineering & Technology (KUET), 1972-1976	Engineer (Civil)
Engr. Md. Nazrul Islam	Bachelor of Science in Electrical & Electronic Engineering. Khulna University of Engineering & Technology (KUET).1981	Engineer (Survey)
Engr. Serajul Islam Choudhury	BSc Engg. (Elec. & Electronics) From Rajshahi Engineering College (RUET) in 1979	Commissioning Expert

Consultant of the NRIS

Sl. No.	Name	Qualification	Position	Year of Experience
1	Dr. Syed Moazzem Hossain	B.Sc Engineering (Civil), 1962, Bangladesh University of Engineering & Technology (BUET), Dhaka	Planning and Design Specialist	40
2	Lazuardi Buana	Bachelor (Ir) degree in Civil Engineering, Bandung Institute of Technology, Bandung, 1985	Roads and Bridges Design Specialist/Deputy Chief Design Engineer	17
3	Mohan Kumar Dangal	M.E Road Engineering (Civil), MADI, Moscow, Former USSR, 1978	Roads and Bridge Design Specialist	27
4	Shah Muhammad Muhibbullah	Master in Urban & Regional Planning, Bangladesh University of Engineering & Technology, 1989 B.Sc Eng. (Civil) from Bangladesh University of Engineering & Technology (BUET), 1975	Structural Engineer	40
5	Dr. Nasir Uddin Khan	Ph.D (Environmental Management and Climate Change): Atlantic International University, Hawaii, USA, 2007 M.Sc in Civil Engineering (Wastewater Treatment), Dhaka University of Engineering & Technology, Gazipur, Bangladesh, 1999	Environmental Specialist	21
6	Dr. Bachrian Lubis	Ph.D Civil Eng, University of Birmingham, UK,1996 M.Sc, Construction Engineering, University of Leeds, UK, 1985	Geo-technical Engineer	10
7	Dr. Subrata Bose	Doctor of Philosophy (Ph.D) in Coastal Engineering from Jadavpur University in 1986 Post-Graduate specialisation in Harbour Engineering (Konstru-ktiver Wasserbau) from Germany as a sponsored scholar of Govt. of India, during 1966-67	Chief Engineer	50
8	Dr. Amjad Uddin Ahmed, PEng.	"Doktor-Ingenieur" (Ph.D.), Technische Hochschule, Magdeburg, Germany (GDR), Subject - Diesel Injection Spray, 1977 "Diplom-Ingenieur" (MS), Technische Hochschule, Magdeburg, Germany (GDR), Subject - Thermal & Hydraulic Engineering (specializing in IC Engines), 1974	Freelance Mechanical Engineer	38
9	Dr. Muhammad Shafiq	Ph.D Soil Science from Agricultural University, Faisalabad, 1993 M.Sc Soil Science, from Agricultural University, Faisalabad, 1971.	Principal Scientific Officer	39
10	Dr. Mahmood Alam	Ph.D (Geological Science), Dalhousie University, Halifax, Canada, 1979	Environmentalist, Rural Transport Improvement Project	31

		M.S (Geological Science), Dalhousie University, Halifax, Canada, 1976	(RTIP), LGED, RPMC, Dhaka	
11	Dr. Nurul Islam	Ph.D degree in Chemical Engineering from the University of New Castle upon Tyne, U.K. in 1973 Graduated in Chemical Engineering from Bangladesh University of Engineering and Technology (BUET) in 1967	Research Professor, IAT, Bangladesh University of Engineering and Technology (BUET)	**42**
12	Md. Raihan Ali Miah	Post Graduate Diploma in Water Resources Engineering, 1978, Bangkok B.Sc Engineering (Civil), 1967, Bangladesh University of Engineering and Technology, Dhaka	Hydraulic Design Engineer	**42**
13	Dr. Aminul Huq	Ph.D Sydney University, Australia, 1969 B.Sc (Chemical Engineering), East Pakistan (Bangladesh) University of Engineering and Technology, Dhaka, 1963 (First Class)	Energy Advisor, Team Leader and International Energy	**46**
14	Dr. Benjamin Asante	Ph.D University of Calgary, Canada / Imperial College, UK, 2000 M.Sc (Chemical Engineering), University of Calgary, Canada 1988	Principal Consultant	**26**
15	Dr. Habibur Rahman	Ph.D in Economics (2003), from Jahangirnagar University, Savar, Dhaka, Bangladesh. The research entitled *"Exchange Rate and the Manufacturing Sector of Bangladesh: An Empirical Analysis"* was done in time series econometric framework MA in Economics from Department of Economics Rajshahi University, 1986 (held in 1989)	Consultant, Industry Survey of Light Engineering Sector in Bangladesh Project	**20**
16	Dr. A F M Mafizul Islam	Ph.D in Development Economics, Joint program of Dhaka University and The George Washington University, USA, sponsored by World Bank, July 1979-June 1981 Dhaka University and July 1981 - June 1982 The George Washington University, USA MPhil (Major Courses: Development Economics, Sociology, Social Welfare, and Anthropology) Institute of Bangladesh Studies, July 1976 - June 1979	Professor, Institute of Business Administration	**36**
17	Dr. Shyamal Majumdar	PhD (Computer Science & Engineering) Jadavpur University, India 1999 M.S (Computer Science & Engineering) Jadavpur University, India 1988	IT Expert	**27**
18	Md. Abdus Sobhan	Post-Graduate Diploma in Hydraulic Engineering (Hydraulic Structures), Delft, The Netherlands, 1971 B.Sc Engineering (Civil), Bangladesh University of Engineering & Technology (BUET), Dhaka Bangladesh, 1963	Design Planning & Management Consultant	**46**

19	Dr. Abu Md. Shadullah	Ph.D in Water Resources Engineering, Technical University, Dresden, Germany (1978) MSc in Water Resources Engineering, specially in Hydraulics and Hydrology including Control of Salinity in Water, Technical University, Dresden, Germany (1974)	Director, Technoconsult International Limited, Dhaka	**39**
20	Mohammad Nur-e-Elahi	B.Sc in Engineering (Civil) from Dhaka University of Engineering and Technology (Former Bangladesh Institute of Technology) in the year 1988.The Course is completed in English Medium, AMIEB (A/4420) Diploma-in-Engineering (Civil Technology) from Dhaka Polytechnic Institute, Bangladesh in the year 1968. The course is completed in English Medium Completed the training course on Urban Flood Control and Management at the Asian Institute of Technology (AIT), Bangkok, Thailand in the year 1998 Also visited Malaysia within the period of training. The training is completed in English medium	Solid Waste and Landfill Engineer	**40**
21	Md. Abul Bashar	M.Eng., BUET, Dhaka, 1999 B.Sc Eng. (Civil), BUET, Dhaka, 1983	Senior Hydrological Engineer/Soil Engineer, Portable Steel bridge project on upazila and union roads	**29**
31	Swapan Kanti Poddar	M.Sc Soil Science major in Environmental Planning, 1979, Dhaka University B.Sc (Honors) in Soil Science, 1977, Dhaka University	Environmentalist	**31**
32	Dr. Mohammad Naushad Alam	Doctor of Philosophy (Ph.D) in Soil, Water & Environment (Continue). Master of Science (M.S.) in Soil, Water & Environmental (Major in Water Science), 2002 held in 2005	Jr. Environmentalist	**9**
33	Dr. Shree Govind Shah	Ph.D (Ecology), The University of Sydney, Sydney, Australia, 1989. M.Ag.Sc (Pasture Ecology), The University of Sydney, Australia, 1978	Environment Specialist, Impact Assessment Study of Buffer Zone Programme, New ERA/UNDP	**22**
34	Dr. Mir Muhammad Hassan	Post Doc. In Environment Friendly Resource Management Planning, State University of Ghent, Belgium, 1985 D.Sc Soil Classification, State University of Ghent, Belgium,1982	Environmental Specialist, High Point Rendel. Auditing of Environmental	**43**

			Activities of Bridge Replacement Project	
35	Colin Sinclair Mellor	Master in Urban & Regional Planning, Bangladesh University of Engineering & Technology, 1989 B.Sc Eng. (Civil) from Bangladesh University of Engineering & Technology (BUET), 1975	Bridge Design and Structural Engineer	**33**

MANAGEMENT CAPABILITY

The Board of the firm has necessary capability and experience for handling of project commitment. The firm always maintains the highest standard of services to meet the client needs. NRIS has own monitoring and quality assurance division to monitor the performance of the projects. NRIS management arranges consecutive meeting with the assigned consultants of the project to ensure efficiently of the project works. NRIS internal quality audit mechanism ensured the performance of staff or the quality of reports submitted for consulting assignment. NRIS's program monitoring and evaluation team is responsible to monitor the performance of the projects. However, the Board of Directors and the senior advisors of the firm will also find out a suitable solution against the complaints as desired of the client. The members of the board of management always concern about performance of the staff and the quality of the deliverables.

FACILITIES

NRIS has necessary physical facilities and logistic support to enable it to complete its projects with efficiency and on time. NRIS has its own office premise of 2,500 sq located in Dhanmondi and additionally, separate project offices are rented as need arises. The firm is equipped with modern office equipment and communication facilities including computers, laptops, multimedia projectors, fax, broadband and WI-FI internet facilities, ISD telephones, photocopiers, vehicles etc. It has a project-related reference library, a data bank, and a reprographic unit with all needed facilities. It has necessary facilities for providing management training, awareness raising campaigns and promotional activities. We have given several products a strong local identity and are going strong year after year for the last 16 years. Our organization includes a team of enthusiastic young people, who look forward towards growth and challenges in business.

ROUND-THE-CLOCK MAINTENANCE & AFTER-SALES SERVICE

Supervision, data collection, census, taking frequent checks and maintenance and other procedures to make sure the message is on, always. A thorough inspection of sites and locations, painting schedules, field visits and timely execution of site jobs, keeping the Advertisements untouched by unauthorized posters and removal of other material that blocks the view. Our responsibility extends up to participation in the efforts of the clients to gain more response and more business through this media. We keep the clients informed about the response to their advertisements and attend to grievances if any, during the course of the contract period.

HALLMARK OF CONFIDENCE

Various bilateral, multilateral development partners and NGOs have trusted NRIS with implementing their aid assistance with ability, efficiency and reliability. With their support, NRIS have carried out numerous of assignments to the complete satisfaction of a wide variety of clients including Bangladesh government and government agencies, regional and local authorities, bilateral and international donor agencies, industrial and commercial organization and other interest in public and private sectors.

HIGHLY QUALIFIED POOL OF CONSULTANTS AND ADVISORS

NRIS has distinct advantage of maintaining a large panel of consultants and professionals. We have a well experienced team of advisors and consultants to work on different projects.

These highly acclaimed (both academically and professionally) experts have worked in their respective fields with outstanding success in Bangladesh and abroad. The people in NRIS management, consultants and experts who are working with it bring years of practical experience match with outstanding success.

UNIQE Feature	We deliver	Our strength
• create win win situation • Make good business sense	• Transparency in dealings • Something Innovative and creative • Qualitative verses Quantative • Value for money • All under one roof • A mix of latest trend and traditional practices	• Satisfied Clients • A talent pool of experienced technitians, artists, advisors and consultants. • Working experience with several government and international organisations

Experience in Consultancy Fields

Assignment Name:
Feasibility Study & Detail design of Establishment of Panorama in the remembrance of Liberation War in Bangladesh
Name of Client : Ministry of Liberation war
Start date: June 2022
Completion date: June 2023

Detailed Narrative Description of Project:
The proposed Panorama Liberation war museum in Munshigonj near Padma Bridge. The Government of Bangladesh (GoB) through the Ministry of Liberation War Affairs intends to undertake this project.

Scope of this consultancy:

- Detail Survey & sub-soil Investigation with geological assessment.
- Padma river morphological study.
- The present Environmental and Social safeguard Management Plan.
- Preparation of Tender Document.

Assignment Name:
Feasibility Study of Manikganj International Cricket Stadium Complex
Name of Client : Director (Planning & Development)
National Sports Council (NSC)
Start date: June 2022
Completion date: June 2023

Detailed Narrative Description of Project:
The main objectives of the project were:
The major objective of the assignment is to conduct feasibility study, prepare designing and estimation for International Cricket Stadium Complex at Manikganj District.

Scope of this consultancy:

- Feasibility study & prepare the architectural design & Masterplan
- Detail Survey & sub-soil Investigation with geological assessment.
- Padma river Hydro-morphological study.
- River Bank protection design
- Detail structural design.
- Details MEP Design.
- BOQ & Cost Estimated.
- DPP Preparation.

Assignment Name:
Development of Sheikh Russel Water Base Park Project

Name of Client : Project Director
Sheikh Russel Water Base Park Project
Rajdhani Unnayan Kartripakkha (RAJUK)
1st Floor, RAJUK Annex Building, Dhaka-1000
Start date: 1st Augst, 2023
Completion date: 30th Augst, 2023

Detailed Narrative Description of Project:
Rajdhani Unnayan Kartripakkha (RAJUK) is to develop a beautiful recreational water-based park with modem facilities in Ghatarchar area at Keraniganj of Dhaka city. There exists no recreational park and open space at Ghatarcuhr area, the nearest open space is situated at national Parliament Bhaban. Shere Bangla Nagar. So, the Proposed Park would be a great center of entertainment and refreshment for all age's people of Ghatarchar area at Keraniganj. People from other part' of Dhaka city could also visit the park so the park would generate lots employment opportunities for the people of Ghatarchar.

Scope of this consultancy:

- Detail Survey & sub-soil Investigation with geological assessment.
- Hydro-morphological study.
- Environmental Impact assessment
- Social Impact assessment.

Assignment Name:
Consultancy Service for Detail Design & Construction Supervision Of 05 Storied Academic Building Of Kazi Abdul Haque College.

Name of Client : Al-Haramain Group
Start date: 10.02.2022
Completion date: 30.06.2025
Scope of this consultancy:

- Topographic Survey & Sub-soil Investigation
- Prepare Architectural Drawings
- Detail structural design of Civil Works
- Present Plumbing Design
- Present Electro / Mechanical Design & Drawing
- Provide 3D Drawing and Design
- Cost Estimation Report
- Prepare Tender Documents

Assignment Name:
Consultancy Service for Detail Architecture, Structural & MEP Design for Store cum Office Building at Kaliakair 400/230/132 kV Grid Sub-1station, PGCB

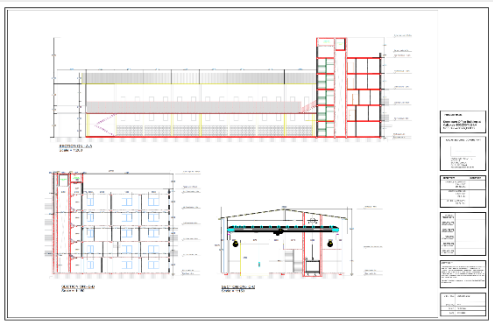

Name of Client : PGCB
Start date: 10.02.2022
Completion date: 30.06.2025
Scope of this consultancy:

- Topographic Survey & Sub-soil Investigation
- Prepare Architectural Drawings
- Detail structural design of Civil Works
- Present Plumbing Design
- Present Electro / Mechanical Design & Drawing
- Provide 3D Drawing and Design

- Cost Estimation Report
- Prepare Tender Documents including Evaluation
- Submit Development project proposal (DPP)

Assignment Name:
Consultancy servise for Construction of two storied Dormitory cum Church Building at BBCF payer Garden, Rajandrapur Chowrasta - Bhawal Mirzapur Road.
Name of Client : Bangladesh Baptist Church Fellowship
Start date: 10.02.2022
Completion date: 30.06.2025
Scope of this consultancy:

- Prepare Architectural Drawings
- Detail structural design of Civil Works
- Present Plumbing Design
- Present Electro / Mechanical Design & Drawing
- Provide 3D Drawing and Design
- Cost Estimation Report

Assignment Name:
Consultancy servise for Construction of Muktijoddha Chattor, Kadomtoli, under Slyhet City corporation
Name of Client : Slyhet City corporation
Start date: 10.02.2022
Completion date: 30.06.2025
Scope of this consultancy:

- Prepare Architectural Drawings
- Detail structural design of Civil Works
- Present Plumbing Design
- Present Electro / Mechanical Design & Drawing
- Provide 3D Drawing and Design
- Cost Estimation Report
- Prepare Tender Documents including Evaluation

Assignment Name:
Prefeasibility Study Report of 200MWac Solar Power Plant at Dhulaswar Mouza, Kalapara Upazila, Patuakhali District, Bangladesh
Name of Client : Cloud Systems Ltd.
House No. 1-A, Road No. 16-A, Level-03
Gulshan-01, Dhaka-1212, Bangladesh
Start date: 24th Dec 2022
Completion date: 30.03.2023
Scope of this consultancy:

- Assessment of the site against buildability.
- Climate Investigation
- Assessment on Potential Site Development Works,
- Site Assessment for accessibility
- Survey and data analysis
- Development of pre-feasibility study report.

Assignment Name:
Consultancy servise for Construction of 4 Nos. 10 storied officiears quarter at Shahjalal University of Science and Technology, slyhet.

Name of Client : Shahjalal University of Science and Technology
Start date: 10.02.2022
Completion date: 30.06.2025
Detailed Narrative Description of Project:

- Prepare Architectural Drawings
- Detail structural design of Civil Works
- Present Plumbing Design
- Present Electro / Mechanical Design & Drawing
- Provide 3D Drawing and Design
- Cost Estimation Report

Prepare Tender Documents including Evaluation

Assignment Name:
Jatio kobi kazi Nazrul NRISam University Shaheed Minar

Name of Client : Jatio kobi kazi Nazrul NRISam University
Start date: 1.05.2022
Completion date: 30.06.2024
Detailed Narrative Description of Project:

- Prepare Architectural Drawings
- Detail structural design of Civil Works
- Present Electro / Mechanical Design & Drawing
- Provide 3D Drawing and Design
- Cost Estimation Report

Assignment Name:
Consultancy servise for Construction of Centiral Mosque at Shahjalal University of Science and Technology, slyhet.

Name of Client : Shahjalal University of Science and Technology
Start date: 10.02.2022
Completion date: 30.06.2025
Detailed Narrative Description of Project:

- Prepare Architectural Drawings
- Detail structural design of Civil Works
- Present Plumbing Design
- Present Electro / Mechanical Design & Drawing
- Provide 3D Drawing and Design
- Cost Estimation Report
- Prepare Tender Documents including Evaluation

Assignment Name:
Consultancy servise for Construction of 10 storied Teacher's quarter at Shahjalal University of Science and Technology, slyhet.

Name of Client : Shahjalal University of Science and Technology
Start date: 10.02.2022
Completion date: 30.06.2025
Detailed Narrative Description of Project:

- Prepare Architectural Drawings
- Detail structural design of Civil Works
- Present Plumbing Design
- Present Electro / Mechanical Design & Drawing
- Provide 3D Drawing and Design
- Cost Estimation Report
- Prepare Tender Documents including Evaluation

Assignment Name:
Consultancy servise for Construction of 10 storied male student hostel at shahjalal university, slyhet.
Name of Client : Shahjalal University of Science and Technology
Start date: 10.02.2022
Completion date: 30.06.2025
Detailed Narrative Description of Project:

- Prepare Architectural Drawings
- Detail structural design of Civil Works
- Present Plumbing Design
- Present Electro / Mechanical Design & Drawing
- Provide 3D Drawing and Design
- Cost Estimation Report
- Prepare Tender Documents including Evaluation

Assignment Name:

Consultancy service for Feasibility study & preliminary route survey for the 132 kV transmission line, assessment of the power evacuation substation, drone survey, and soil tests of the selected site for the proposed 100 MWac solar power plant

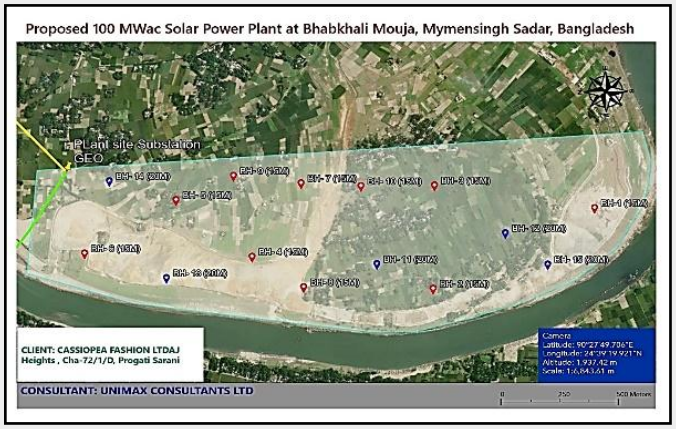

Name of Client : CASSIOPEA FASHION LTD
AJ Heights , Cha-72/1/D, Progati Sarani
Uttar Badda, Dhaka-1212, Bangladesh
Start date: 30 January 2023
Completion date: 30.03.2023

Detailed Narrative Description of Project:

- Site assessment &Topographic survey
- Geological assessment & sub-soil investigation
- Drone survey & Boundery Demergation
- Mouza map degitilation and pentagraph
- Preparation of pre-feasibility study report and survey report.
- River Morphological study.

Assignment Name:

Report on Project Site Assessment and Transmission line Route Survey for 200MWac Solar Power Plant in Bheramara Upazila, Kushtia District, Bangladesh
THE ORBIT RENEWABLE ENERGY LTD.
Tropical Molla Tower (Level-08)
15/1-15/4, Progoti Sarani
Middle Badda, Dhaka-1212, Bangladesh

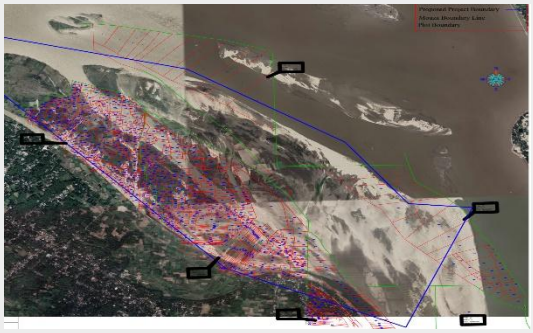

- Site assessment &Topographic survey
- Geological assessment & sub-soil investigation
- Drone survey & Boundery Demergation
- Mouza map degitilation and pentagraph
- Preparation of pre-feasibility study report and survey report.
- Recommendation and Conclusion.

Assignment Name:

Consultancy Service for Feasibility study & Site Assessment work for Dhamrai 50 MW Solar Power Plant
Name of Client: ib-Vogt GmbH, Germany
Project Date: January, 2020
Detailed Narrative Description of Project:

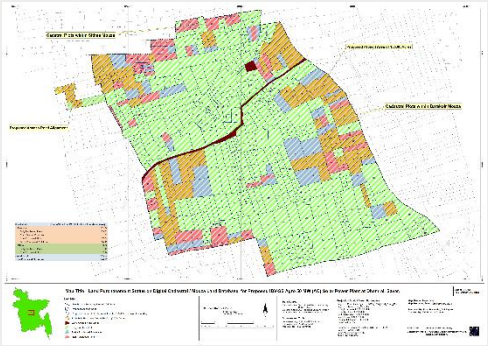

- Site assessment &Topographic survey
- Geological assessment & sub-soil investigation
- Drone survey & Boundery Demergation
- Mouza map degitilation and pentagraph
- Preparation of pre-feasibility study report and survey report.
- Initial Environmental and Social Impact Assessment, Social aspects, including land ownership regime
- Recommendation and Conclusion.

Assignment Name:

Consultancy Service for Feasibility study & Site Assessment work for Sonagazi 50 MW Solar Power Plant
Name of Client: ib-Vogt GmbH, Germany
Project Date: January, 2020
Detailed Narrative Description of Project:

- Site assessment &Topographic survey
- Geological assessment & sub-soil investigation
- Drone survey & Boundery Demergation
- Mouza map degitilation and pentagraph
- Preparation of pre-feasibility study report and survey report.
- Initial Environmental and Social Impact Assessment, Social aspects, including land ownership regime
- Recommendation and Conclusion.

Assignment Name:

Consultancy Services of **Preparation of Initial Environmental Examination (IEE)** for **400kV Transmission Line** from New Madunaghat Substation to Maheshkhali (Matarbari Power Plant) via **Banshkhali Power Plant**
Name of Client: Madunaghat , Banshkhali, Maheshkhali

Project Date: January, 2020
Detailed Narrative Description of Project:

a. Review of the relevant existing information/data and documents;
b. The buffer zone of the proposed project is 40m (20m each side from the centerline).
c. Provide a description of the existing environment (such as baseline data on physical, biological and socioeconomic characteristics of the proposed project sites along with area of influence);
d. Consult with the stakeholders and relevant others of the proposed project;
e. Identify all National (GOB) and International applicable policies, laws and requirements that need to be complied with,
f. Preparation of IEE Report and application letter of ECC for submission to DoE
g. Maintain all liaisons with DOE and others Government department related to Site/Environment clearance.

Assignment Name:

Consultancy Service of Preparation of Initial Environmental Examination (IEE) for Transmission line at "Barisal 307 MW Coal- fired Power Plant Project at Taltali, Barguna.
Name of Client: Barisal Electric Power Company Limited (BEPCL)
Project Date: January, 2020
Detailed Narrative Description of Project:

a. Review of the relevant existing information/data and documents;
b. Provide a description of the existing environment (such as baseline data on physical, biological and socioeconomic characteristics of the proposed project sites along with area of influence);
c. Consult with the stakeholders and relevant others of the proposed project;
d. Identify all National Government of Bangladesh (GOB) and International applicable policies, laws and requirements that need to be complied with
e. Assess project-related impacts and recommend possible mitigation measures for the negative impacts and enhancement for the positive impacts; and
f. Preparation of IEE Report and application letter of Environment Clearance Certificate ECC for submission to Department of Environment (DoE).

Assignment Name:

Consultancy Services for Transportation Demand Forecast Modeling and Feasibility Study for Proposed Road Widening (23.0 Km) and Realignment of 6.0 Km Road Infrastructures of Existing Marine Drive Road at Cox's Bazar EIA Study for Cox's Bazar – Teknaf Marine Drive (23.0 Km) Road Widening and 6.0 Km Road Realignment Project

Name of Client: 16 Engineering Construction Battalion, Jhawtala Army Camp, Cox's Bazar, Chittagong.
Project Date: April, 2019
Detailed Narrative Description of Project:

Purpose of environmental assessment, area within 05 km radial zone on both side of the proposed project (all 03 sections of MDRIP) have been studied and classified as Study Area. Following methodology (in other words, scope of works) has been adopted for the EIA study:
a. Collection of primary and secondary baseline information
b. Analysis of project component and its activities with respect to environmental aspects
c. public consultation to identify their concern and acceptance to the project
d. Analysis of Alternatives
e. Impact assessment and identification of mitigation measures for elimination, or minimization of impacts
f. Assessment of institutional aspects, and development of Environmental Management and Monitoring Plan.

g. Identification of sources of pollution during construction and operation phases of the project at the proposed site
h. Identification of utilization of resources obtained during construction and operation phases of the project
i. Assessment of extent of pollution and resource utilization in the proposed area
j. Recommend measures to optimize resource utilization
k. Develop an environmental monitoring plan to ensure effective implementation of the environmental management plan

Assignment Name:

Consultancy Services for Traffic Modeling and Feasibility Study of Proposed Kalshi Flyover from ECB Chattar to Mirpur DOHS, Dhaka.

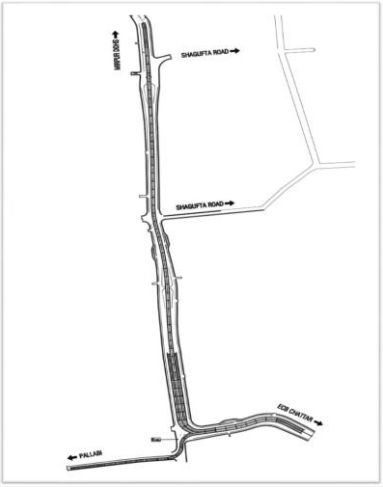

Name of Client: 17 Engineering Construction Battalion, Bangladesh Army,DOHS Chattar, Mirpur-12, Dhaka..
Project Date: March, 2019
Detailed Narrative Description of Project:
The proposed project is designed for constructing a new flyover or expressway from ECB Chattar
to Mirpur DOHS Gate -1, spanning 3.70 km road section and 2.815 km flyover section within it. The
major physical components of the proposed Mirpur DOHS- Kalshi Flyover are as follows:
i. Total length of the flyover including ramps – 2,815 meter
ii. Length of the ramps: One four lane ramp is 85.00 meter
iii. One two and half lane ramp 91.00 meter
v. One one and half lane ramp is 98 meter
vi. Total number of pier columns: 77
vii. Total number of PC girders: 260
viii. Total number of box girder spans: 4 spans on main arm and 4 spans on left arm